01 Overall Structure and Renewal

A green public axis connecting everyday life with an AI future

F01 Overall Concept and Spatial Framework

One axis, three cores, four connections | Greener, comfortable, liveable and resilient

JING-ZHANG / 2026

AI × GREEN LIFE

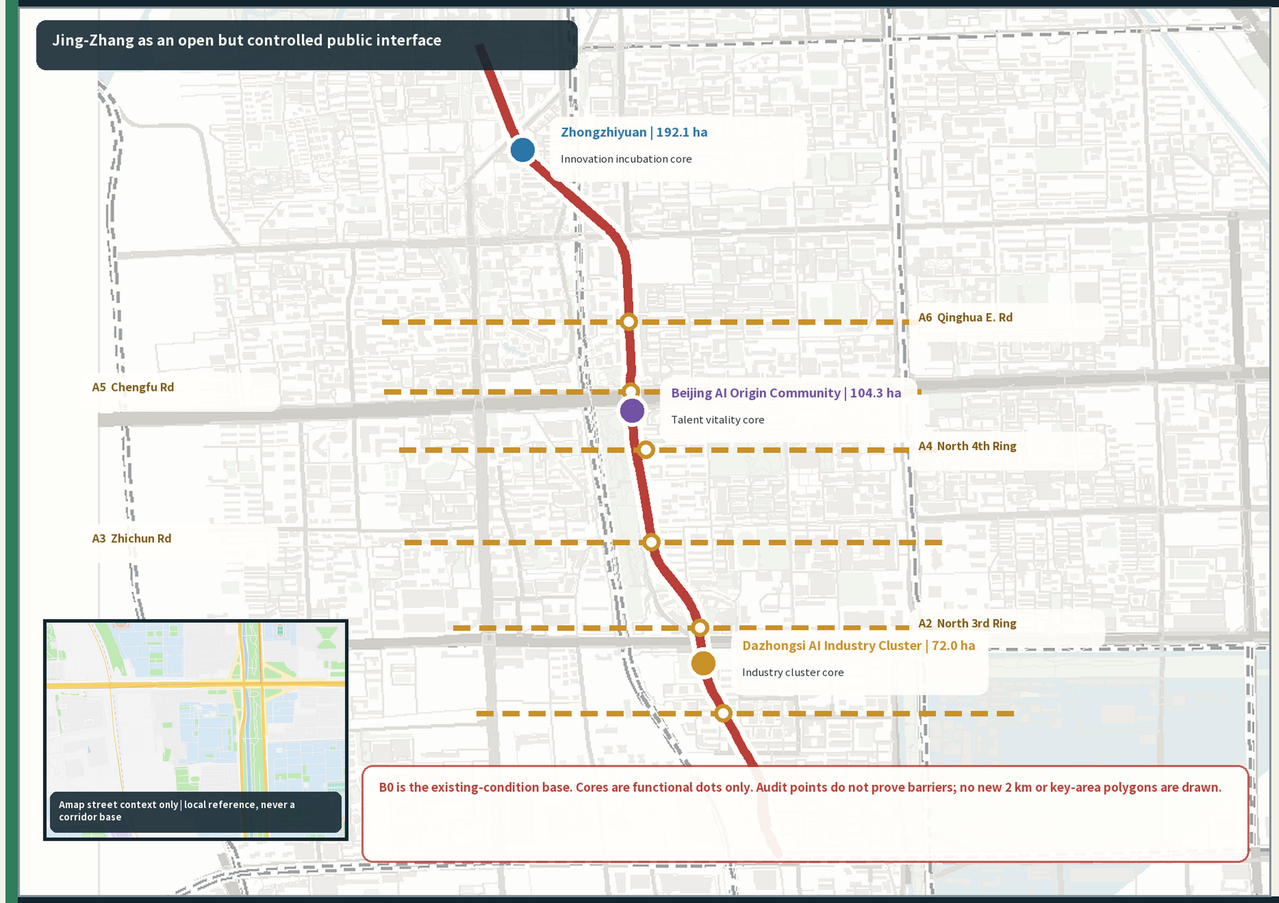

1 + 3 + 4

Jing-Zhang as an open but controlled public interface

01 Spatial connection

Continuous walking, accessibility, rail transfer and graded east-west interfaces

02 Innovation-chain connection

Learning, research, incubation, testing, adoption, industrialization and feedback

03 Everyday-life connection

Commuting, all-age activity, climate comfort, night and weekend services

04 Resilience connection

Shelter, supplies, people, mobility and professional emergency coordination

The cultural lead is Zhan Tianyou's spirit; rail is the carrier. Students engage through frontier projects, talks and first-hand feedback.

AI binding: spatial carrier + AI service + accountable operator. Humans decide high-risk matters.

Verified continuity

Field audit pending

Provisional design model | Not an official redline, key-area boundary or engineering decision | 2026-08-31

One axis

The green public axis supports everyday public life.

Three cores

Zhongzhiyuan, AI Origin and Dazhongsi work differently together.

Four connections

Space, innovation, daily services and resilience work as one.

F02 Land Use & Renewal Summary

Protection and repair first

Focus: continuous active travel, accessibility, ecology and basic services.
Action: repair gaps, interfaces and everyday access.
Boundary: AI assists alerts and matching; it does not replace public essentials.

Adaptive reuse of existing space

Target: underperforming buildings, active ground floors and support space.
Action: adapt first, adding open interfaces and flexible services.
Responsibility: coordinate tenure, fire safety, utilities and operators.

Conditional construction

Trigger: demand, tenure, structure, fire safety, utilities and operators are verified.
Decision: discuss new construction only after those checks.
Boundary: accountable actors retain approvals, critical services and stop authority.

Pre-delivery checks

Need

Users, timing and service volume

Tenure

Available space and permissions

Safety

Structure, fire safety and accessibility

Utilities

Capacity, connection and maintenance

Operations

Named daily steward and maintainer

Accountability

Approval, critical service and stop authority

Content source: F02 Land Use and Renewal Structure

F03 Differentiated Design of Three Key Areas

Registered Amap imagery is a context window only | overlays are not official boundaries

JING-ZHANG / 2026

AI × GREEN LIFE

Zhongzhiyuan | 192.1 ha

Innovation incubation core

NON-SPATIAL PROTOTYPE: people / time ▶ space + AI ▶ accountable operator

PEOPLE / TIME

Students, researchers, founders | weekdays + prototyping cycles

PHYSICAL ACTIONS

Shared R&D, prototyping, validation, talks and a public showcase edge

AI SERVICE

Frontier-project matching, lab booking, open talks and first-hand feedback records

DECISION GATE

Prove use, tenure, structure, fire, logistics and operator first

Beijing AI Origin Community | 104.3 ha

Talent vitality core

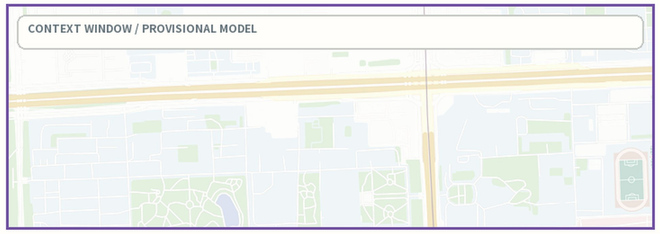

NON-SPATIAL PROTOTYPE: people / time ▶ space + AI ▶ accountable operator

PEOPLE / TIME

Students, residents, visitors, all-age families | daily + weekends + severe weather

PHYSICAL ACTIONS

Campus-city learning interfaces, living rooms, shade, water and resilience points

AI SERVICE

Everyday demand, comfort cues, booking and emergency-resource matching

DECISION GATE

Keep campus/community controls; humans decide high-risk matters

Dazhongsi AI Industry Cluster | 72.0 ha

Industry cluster core

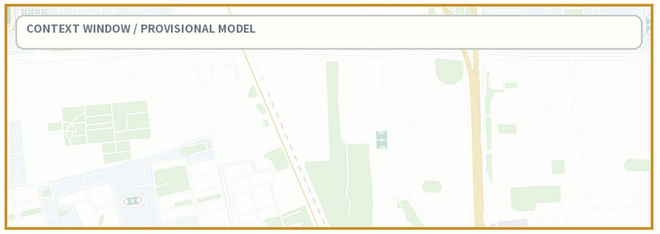

NON-SPATIAL PROTOTYPE: people / time ▶ space + AI ▶ accountable operator

PEOPLE / TIME

Firms, service staff, residents, logistics teams | weekdays + controlled night

PHYSICAL ACTIONS

Adoption interfaces, shared validation, station-life edges and handoff stops

AI SERVICE

Adoption evaluation, industrial coordination, controlled night logistics and confirmation

DECISION GATE

Verify official boundary, tenure, night impacts, roads and human responsibility

learning ▶ research ▶ incubation ▶ testing ▶ life feedback ▶ adoption ▶ industrialization ▶ feedback

Provisional design model | Not an official redline, key-area boundary or engineering decision | 2026-08-31

Spatial logic

Zhongzhiyuan: R&D:, prototyping and professional validation | Beijing AI Origin: learning, joint projects and talent life | Dazhongsi: integration, market validation and mature application.

F04 Four Collaborative Scenarios and Resource Loop

Spatial carrier → AI service → responsible operator | humans decide high-risk tasks

JING-ZHANG / 2026

AI × GREEN LIFE

S1 Education + incubation

SPATIAL CARRIER

Zhan Tianyou spirit-led campus-city learning interfaces, joint studios and project-talk spaces

AI SERVICE

Frontier-project matching, talk booking, experiment scheduling and student first-hand feedback

RESPONSIBLE OPERATOR

Firms / incubators stay open; schools coordinate governance

S2 Daily liveability / all-age weekends

SPATIAL CARRIER

Origin Community living rooms, shade, water, accessibility and resilience points

AI SERVICE

All-age demand, climate comfort, event booking and resource availability

RESPONSIBLE OPERATOR

Community, site operators and public-service departments

CLOSED LOOP

resource / status → demand → match → handoff → confirmation → review

S3 Human-centred smart mobility

SPATIAL CARRIER

Controlled routes, handoff stops and human-takeover points: T01 / T02 / T03

AI SERVICE

T01 service robots; T02 low-speed shared short shuttle; T03 last-mile delivery

RESPONSIBLE OPERATOR

Licensed operators monitor, take over, stop and provide alternatives

S4 Extreme-weather resilience

SPATIAL CARRIER

Shelters, supply points, people assembly points and emergency-mobility interfaces

AI SERVICE

Resource / status aggregation, demand matching, handoff confirmation and review

RESPONSIBLE OPERATOR

Emergency authority leads; communities, sites and mobility operators coordinate

HIGH-RISK TASKS: HUMAN DECISION, AUTHORIZATION, TAKEOVER AND ACCOUNTABILITY

Provisional design model | Not an official redline, key-area boundary or engineering decision | 2026-08-31

Renewal principle

Walking, cycling, accessibility, metro and ordinary transit come first. Six road intersections are audit points, not presumed barriers.

F05 Project Packages, Metrics and Evidence Chain

Official textual scale is separate from provisional model metrics | recalculate when formal evidence arrives

JING-ZHANG / 2026

AI × GREEN LIFE

OFFICIAL TEXTUAL SCALE

Coordinated study	Overall design	Three cores
43.6 sq km	about 11.4 sq km	192.1 / 104.3 / 72.0 ha

PROVISIONAL MODEL METRICS

Model site area	Model green ratio	Model public-space ratio
11,412,825 sq m	12.3423%	7.3281%

INDICATORS

- **Accessibility** — walk / access
- **Utilization** — group / time
- **Response time** — daily / emergency
- **Completion** — handoff loop
- **All-age coverage** — child / older / disabled
- **Green travel** — walk / cycle / transit

NEAR / MID / LONG PROJECT PACKAGES

NEAR | close gaps

PHASE / PROJECT PACKAGE

Audit six corridors; repair green/accessibility gaps; open talks, project feedback and small T01 pilots

RELEASE EVIDENCE

Field continuity, accountable operator and user demand

MID | form networks

PHASE / PROJECT PACKAGE

Reuse ground floors; all-age climate nodes; controlled expansion of T02 shuttle and T03 delivery

RELEASE EVIDENCE

Tenure, roads, operational data and stage evaluation

LONG | conditional build

PHASE / PROJECT PACKAGE

Shared validation and industrialization carriers; resilience network; evidence-backed new construction

RELEASE EVIDENCE

Formal planning, carrying capacity and public-interest review

SEVEN REQUESTS / BOARD LOCATION

- R1 Haidian-fit concept — F01
- R2 AI innovation ecosystem — F03
- R3 New urban form — F02
- R4 Mobility, services and infrastructure — F04
- R5 Jing-Zhang park vitality — F01
- R6 Three-culture narrative — F03
- R7 AI application scenarios — F04

RECALCULATION TRIGGERS

RECALCULATE WHEN AVAILABLE: formal boundaries / regulatory plan / tenure / road redlines / utilities / heritage controls.

Provisional design model | Not an official redline, key-area boundary or engineering decision | 2026-08-31

Operating condition

This provisional model communicates design logic and metric checks only; it is not an official redline, statutory plan or engineering commitment.